LTDRR SCORECARD AND STAKEHOLDER MAPPING & ANALYSIS

The ***LTDRR Scorecard*** reviews long-term disaster recovery, from a global lens through united nations / regions, varied countries, as well as separately within the United States and its SLTTs, and review their critical roles and responsibilities in disaster recovery and how they must rely on their own capacities and authorities to lead recovery through disasters, whether hurricanes, sunames, earthquakes, tornados, floodings, or wildfires.

The ***LTDRR Scorecard*** assumes a position of a long-term disaster recovery practitioner who is looking at a strategic approach to mitigate risks. On a global scale, other countries may or may not have resources – this creates the need for a more robust long-term disaster recovery planning to generate the right outreach methodologies.

The ***LTDRR Scorecard***, engages a best practice approach to analyze current status, find relevant resources, implement improvements, document use case scenarios, and deliver a best practice approach for future continuous improvement planning.

LONG-TERM RECOVERY RESILIENCE (LTDRR) SCORECARD			
KEY PERFORMANCE INDICATOR (KPI)	**ANALYSIS**	**SCORE**	**NOTES / ACTIONS**
LEADERSHIP & GOVERNANCE			
√ LONG-TERM RECOVERY COORDINATOR APPOINTED	☐ YES ☐ NO	☐ 2 ☐ 1 ☐ 0	
√ LONG-TERM RECOVERY TASK FORCE FORMED	☐ YES ☐ NO	☐ 2 ☐ 1 ☐ 0	
√ LONG-TERM RECOVERY PLAN PRE-DEVELOPED	☐ YES ☐ NO	☐ 2 ☐ 1 ☐ 0	
√ TRIBAL SOVEREIGNTY INTEGRATED (IF APPLICABLE)	☐ YES ☐ NO	☐ 2 ☐ 1 ☐ 0	
√ LEGAL AUTHORITIES REVIEWED	☐ YES ☐ NO	☐ 2 ☐ 1 ☐ 0	
CAPACITY BUILDING & COMMUNITY PLANNING			
√ PRE-DISASTER RECOVERY PLAN (PDRP) EXISTS	☐ YES ☐ NO	☐ 2 ☐ 1 ☐ 0	
√ INCLUSIVE PARTNER ENGAGEMENT	☐ YES ☐ NO	☐ 2 ☐ 1 ☐ 0	
√ TECHNICAL ASSISTANCE PARTNERSHIPS	☐ YES ☐ NO	☐ 2 ☐ 1 ☐ 0	
√ TRAINING & SIMULATION EXERCISES	☐ YES ☐ NO	☐ 2 ☐ 1 ☐ 0	
INFRASTRUCTURE			
√ CRITICAL INFRASTRUCTURE IDENTIFIED	☐ YES ☐ NO	☐ 2 ☐ 1 ☐ 0	
√ UTILITY CONTINUITY PLANS	☐ YES ☐ NO	☐ 2 ☐ 1 ☐ 0	
√ PUBLIC WORKS RECOVERY STRATEGY	☐ YES ☐ NO	☐ 2 ☐ 1 ☐ 0	
√ HAZARD MITIGATION STRATEGIES	☐ YES ☐ NO	☐ 2 ☐ 1 ☐ 0	
ECONOMIC RECOVERY			
√ SMALL BUSINESS SUPPORT STRATEGY	☐ YES ☐ NO	☐ 2 ☐ 1 ☐ 0	
√ ECONOMIC DIVERSIFICATION PLAN	☐ YES ☐ NO	☐ 2 ☐ 1 ☐ 0	
√ JOB RESTORATION PARTNERSHIPS	☐ YES ☐ NO	☐ 2 ☐ 1 ☐ 0	
√ TOURISM & AGRICULTURE RECOVERY	☐ YES ☐ NO	☐ 2 ☐ 1 ☐ 0	
FINANCIAL & RESOURCE MANAGEMENT			
√ LONG-TERM RECOVERY FINANCE PLAN	☐ YES ☐ NO	☐ 2 ☐ 1 ☐ 0	
√ GRANT MANAGEMENT CAPACITY	☐ YES ☐ NO	☐ 2 ☐ 1 ☐ 0	

SkillVantage ENTERPRISE

SkillVantage Product Conceptualization – DLTRRS AI Dashboard

√ Procurement Readiness	☐ Yes ☐ No	☐ 2 ☐ 1 ☐ 0	
√ Cost Tracking Systems	☐ Yes ☐ No	☐ 2 ☐ 1 ☐ 0	
Housing Recovery			
√ Housing Damage Assessments Ready	☐ Yes ☐ No	☐ 2 ☐ 1 ☐ 0	
√ Temporary Housing Plan	☐ Yes ☐ No	☐ 2 ☐ 1 ☐ 0	
√ Affordable Housing Strategy	☐ Yes ☐ No	☐ 2 ☐ 1 ☐ 0	
√ Resilience in Rebuilding	☐ Yes ☐ No	☐ 2 ☐ 1 ☐ 0	
Health & Social Services			
√ Public Health Recovery Plan	☐ Yes ☐ No	☐ 2 ☐ 1 ☐ 0	
√ Continuity of Care	☐ Yes ☐ No	☐ 2 ☐ 1 ☐ 0	
√ Social Services Mapping	☐ Yes ☐ No	☐ 2 ☐ 1 ☐ 0	
√ Vulnerable Populations Tracked	☐ Yes ☐ No	☐ 2 ☐ 1 ☐ 0	
Natural & Cultural Resources			
√ Historic Preservation Protocols	☐ Yes ☐ No	☐ 2 ☐ 1 ☐ 0	
√ Environmental Remediation Plans	☐ Yes ☐ No	☐ 2 ☐ 1 ☐ 0	
√ Nature-Based Mitigation	☐ Yes ☐ No	☐ 2 ☐ 1 ☐ 0	
√ Parks & Open Space Recovery	☐ Yes ☐ No	☐ 2 ☐ 1 ☐ 0	
Public Information & Community Engagement			
√ Crisis Communication Plan	☐ Yes ☐ No	☐ 2 ☐ 1 ☐ 0	
√ Community Feedback Loops	☐ Yes ☐ No	☐ 2 ☐ 1 ☐ 0	
√ Media Coordination	☐ Yes ☐ No	☐ 2 ☐ 1 ☐ 0	
√ Transparency Tools	☐ Yes ☐ No	☐ 2 ☐ 1 ☐ 0	
Continuity & Testing [Continuous Improvement Plan] ***Should these be weighed / included in measurement?***			
√ After Action Reports from Prior Disasters	***This section is for continuous improvement and testing. Not included in measurement***		
√ Lessons Learned			
√ Case Studies / Use Case Scenarios			
√ Best Practices			
√ White Papers			
		TOTAL SCORE	

SCORECARD: %	☐ **RESILIENT**	☐ **RESTORING**	☐ **NEED SUPPORT**
Scorecard KPIs: [Resilient, Restoring, Need Support (RRNS) Model]	**2 = Fully Implemented** **Resilient (80-100%)** [Indicates **HIGH** recovery readiness.]	**1 = In Progress** **Restoring (60-79%)** [Indicates **MODERATE** capability.]	**0 = Not Started** **Need Support (59% & Below)** [Indicates **LACKING** in capacity.]
Total Score:	**To calculate TOTAL SCORE:** **DIVIDE (/) the tallied above total by 74 & MULTIPLY (x) by 100.**		
Disclaimer:	*This Tool is a recommended tool ONLY. Since each disaster is different, SkillVantage cannot determine every possible recovery needs. Use this tool as a guide / checklist and tailor to your specific needs to determine recovery readiness. Stakeholders SHOULD determine their own recovery criteria when using this Tool for key [long-term disaster recovery resilience] performance indicators.*		

Key / Core Scorecard Stakeholders

1. ***Global / Partner Nations (UK, Caribbean, EU, West Africa, etc.):*** add context

2. ***Country Level (Jamaica, Canada, Mexico, etc.)****:* Support, mitigation, accountability, best practices, roles & responsibilities, funding, Damage Assessment, Mitigation Planning, Resilience, Community Engagement, Economic Revitalization, Infrastructure Improvements, Needs Assessment, Resource requirement, Varied Tribal Nations): engaged Tribal SME to determine KPIs. Consider territory restrictions in building KPIs.

3. ***United States & Territories***

    a. ***Federal Government (FEMA, HUD, SBA, NOAA, NWS, CDC, NIH):*** Support, mitigation, accountability, best practices, etc.

    b. ***State (S) Government (50 U.S. States):*** Roles & Responsibilities, funding, etc.

    c. ***Local (L) Government:*** Damage Assessment, Mitigation Planning, Resilience, Community Engagement, Economic Revitalization, Infrastructure Improvements, Needs Assessment, Resource requirement, etc.

    d. ***Tribal (T) Nations (Varied Tribal Nations)***: engaged Tribal SME to determine KPIs.

    e. ***Territorial (T) Partners (PR, USVI, Guam)***: Consider territory restrictions in building KPIs.

Stakeholder Mapping

	INTERNAL	IMPACT	EXTERNAL	IMPACT
KEY / CORE				
DIRECT				

INDIRECT				

Stakeholder Analysis: Level of Influence / Commitment to Change

HIGH INFLUENCE / LOW INTERESTS	HIGH INFLUENCE / HIGH INTERESTS
LOW INFLUENCE LOW INTERESTS	**LOW INFLUENCE / HIGH INTERESTS**

CORE IDEA: LONG-TERM DISASTER RECOVERY RESILIENCE (LTDRR) SCORECARD

The AI Scorecard serves as a Dashboard.

Mission:
Use LTDRR Scorecard to continuously grade a state/country's Long-Term Recovery Health across domains, then layer AI on top to:

- Pull in up-to-date data (FEMA/NOAA/NASA, UN, World Bank, ODPEM, etc.).
- Translate that data into scores for each LTDRR Scorecard criterion.

Diagnose: Resilient / Restoring / Need Support for each domain and overall.

Recommend:
If below target → prioritized actions, funding pathways, and who to partner with. If at or near optimal → "mentor" mode: show how this place can model best practices and support peers. The AI is not just "storm impact analytics"; it's a strategic recovery and resilience coach.

DASHBOARD VISUAL EXAMPLE

STRUCTURE [AROUND LTDRR SCORECARD DOMAINS]

Start with existing domains and keep the 0/1/2 scoring model:

1. Governance & Leadership
2. Community Planning & Capacity Building
3. Housing Recovery
4. Infrastructure Systems
5. Health & Social Services
6. Economic Recovery
7. Natural & Cultural Resources
8. Financial & Resource Management
9. Public Information & Community Engagement

Each domain on the dashboard gets:

- Status light: Resilient / Restoring / Need Support
- Score: 0–2 per criterion, percent for the domain

Equity lenses across:

1. Tribal nations
2. Low-income communities
3. Women
4. LGBTQ+
5. Children
6. Caribbean / diaspora and other marginalized groups

The AI should compute both an overall domain score and an equity-adjusted score (e.g., "Housing Recovery: 72% overall, 48% for low-income households").

Impact Dimensions [The AI Must Reason Through]

Across all domains, the AI should model these impact dimensions explicitly:

Economic impact

- GDP loss, sector damages (tourism, agriculture, etc.).
- Business closures, job loss, time-to-reopen.
- Use World Bank & other global financial data (e.g., Jamaica's US$8–8.8B estimated losses and catastrophe bond payout for Melissa).
- World Bank +1

Individual / People Impact

- Displacement, shelter population, mortality/morbidity.
- Access to services (health, schooling, social protection).
- Socio-economic impact
- Poverty headcount changes, informal economy disruption.
- Recovery differences by parish / region, class, rural vs urban.

Health Impact

- Immediate trauma care, hospital functionality.
- Secondary outbreaks (e.g., leptospirosis after Melissa).
- Reuters
- Mental health, chronic disease interruption, WASH indicators.

Cultural Impact

- Damage to cultural and historic sites (e.g. destruction of colonial and heritage buildings in western Jamaica).
- The Art Newspaper
- Loss/repair of community gathering spaces, religious centers, cultural festivals.

Community and Equity Impact

- Service access for marginalized groups (tribal nations, low-income, women, LGBTQ+, children, Caribbean small-island communities).
- Representation in governance structures & recovery task forces.
- Community perception surveys and trust metrics.
- These become cross-cutting layers that sit on top of the existing scorecard items.

Data & AI Architecture (Conceptually)

Data sources

- Hazard & exposure (disaster itself)
- NOAA/NHC: storm track, intensity, rainfall estimates.
- NASA: satellite imagery, flood/wind damage proxies.
- Meteorological Service, ODPEM hazard reports.
- Disaster Preparedness Office

Impact & Needs

- ODPEM situation reports & damage assessments.
- Disaster Preparedness Office
- UN OCHA, UN agencies (UNDP, UNICEF, WHO/PAHO) situation updates.
- World Bank, IDB post-disaster damage & needs assessments and resilience financing.

Socio-Economic Baselines

- World Bank, UNDP, national statistics for poverty, health, education, gender indicators, youth metrics.
- Health & social services
- Ministry of Health data (outbreaks like leptospirosis), hospital capacity, WASH.
- Global health networks (PAHO, WHO) on service disruptions and recovery benchmarks.

Financial & Recovery Operations

- Government budget & expenditure; catastrophe bonds and insurance payouts.
- FEMA / NDRF & RSF guidance for mapping international best practices into the scorecard logic.
- The system ingests this through scheduled ETL jobs or APIs, by country/state, hazard, and time.

AI Layers

- Scoring Engine (rules + ML):
  - Start by mapping the 0/1/2 rules directly (e.g., “Recovery Coordinator Appointed – Yes/No”).
  - Use AI to infer “Yes/In Progress/No” from documents, news, and structured data (e.g., if a national recovery task force is announced, AI marks “Recovery Task Force Formed = Yes”).
- Aggregate to total score and % as in the tool (score/74 × 100).

Impact Estimation Models:

- ML models to estimate economic loss, housing damage, and time-to-recovery using global historical data and hazard parameters.
- Health models to estimate outbreak risk given flooding, WASH, and baseline disease data (e.g., leptospirosis risk after large floods).

Equity and Vulnerability Analytics:

- AI computes differential impacts by group: e.g., women-headed households' time-to-housing recovery vs. overall.
- Use global social protection / gender data to highlight gaps in benefits coverage, GBV risk, or child protection.

Recommendation Engine ("How to Improve / How to Mentor"):

- If domain score < threshold → generate tailored action plans:
  - Specific policies, partnership suggestions, global case studies.
- Link to relevant FEMA RSFs, NDRF playbooks, ODPEM CDM examples, World Bank project templates.
- If domain score ≥ "Resilient" → show:
  - Key practices that got them there.
  - Suggested mentor pairings (e.g., Jamaica mentoring another Caribbean SIDS on disaster risk financing and resilience, leveraging its strong pre-Melissa system).

Scenario / Long-Term Planning Engine:

- Run "what-if" scenarios:
  - Stronger future hurricanes under climate change.
  - Slower tourism recovery, second health outbreak, delayed financial flows.
  - Show how current investments change future scorecard outcomes over 5–10+ years.

Dashboard Layout (Conceptually)

Global Overview Page
World Map:

- Each country shaded by Long-Term Recovery Health for their latest major disaster.
- Filter by hazard type (hurricane, earthquake, drought, conflict) and by year.

Country Cards:

- Overall Resilient / Restoring / Need Support.

Quick Metrics:

- Economic loss (% of GDP): Displaced in shelters vs # rehoused.
- Health: excess mortality / outbreaks flagged.
- Equity: top 3 vulnerable groups & their gap scores.

Mentor/Peer Network:

- Carousel of "Resilient" countries/domains that can serve as peer mentors for others.

Country Deep Dive (e.g., Jamaica – Hurricane Melissa)

- **Tabs**: Summary Overall score: e.g., "Jamaica – Hurricane Melissa Recovery Health: 67% (Restoring)". Trend line of score over time since landfall.
- **Key numbers**: deaths, affected population, houses damaged, schools reopened, tourism revenue recovery trajectory.
- Domains (LTDRR Scorecard Wheel)
- Radar chart with each domain's % score.
- Click into any domain for sub-criteria, evidence, equity breakdown, and recommendations.

Equity & Inclusion

- Visuals showing metrics for:
  - Low-income communities
  - Women and girls (e.g., GBV reports, maternal health continuity)
  - LGBTQ+ community access to shelters and services
  - Children (school reopening, child protection cases)
  - Tribal/indigenous groups (for other geographies; here you'd show Maroon communities or other culturally distinct groups if data exists).
- Each metric color-coded vs minimum standards (Sphere, UN guidelines, etc.).

Health & Social Services

- Outbreak monitoring (e.g., leptospirosis), hospital capacity, WASH access, mental health program coverage.
- AI risk rating for next 3–6 months and recommended mitigation actions.

Economy & Livelihoods

- Tourism recovery trajectory (hotel occupancy, room availability, cruise ship arrivals).
- Agriculture loss and recovery status (banana, coffee, sugarcane etc.).
- Employment recovery, small business reopening index.
- Links to financial instruments triggered (World Bank catastrophe bond payout, other financing).

Governance & Financing

- Status of:
  - Recovery Coordinator Appointed?
  - Recovery Task Force Formed?
  - Recovery Plan updated post-Melissa?
  - Recovery finance: funds mobilized vs required (gov budget, donors, private sector).
- Each tab ends with AI-generated "Action Pack":
  - Top 5 immediate actions (0–12 months).
  - Top 5 medium/long-term resilience moves (1–10 years).
  - Suggested global resources & partners.

Translating the LTDRR Scorecard into AI logic

- Using existing structure:
  - Scorecard I developed
- Binary criteria → AI inference:
  - Example: "Pre-Disaster Recovery Plan (PDRP) Exists"
  - AI scans national documents, ODPEM CDM plans, legal frameworks.
  - If official PDRP or equivalent found with updated date → 2 (Yes).
  - If draft or outdated (e.g., >10 years, not hazard-inclusive) → 1.
  - If nothing → 0.
- Add "Impact & Equity" fields to each scoring row:
- For each criterion, store:
  - Coverage for each key group (women, LGBTQ, children, low-income, tribal nations, etc.).
  - If a PDRP exists but doesn't mention any of these groups explicitly, reduce equity score.
  - Re-use total scoring method
  - Still divide by 74 × 100 for baseline Resilient / Restoring / Need Support bands, at least for the pilot.
- Later, you can:
  - Add weights (e.g., health, housing, and infrastructure heavier in early recovery; governance/finance heavier for long-term).
  - Create separate Short-Term, Medium-Term, Long-Term indices.

Continuity & Testing row

- Use "Best Practices / Lessons Learned / AARs / Case Studies" section as an improvement loop, not part of the base score.
- AI periodically mines new AARs, research, and lessons from disasters worldwide and suggests changes to:
  - Scorecard weights
  - New criteria
  - Training & simulation priorities

Long-term strategic planning layer

- On top of immediate recovery, add a "10-Year Resilience Outlook" for each country:
  - Climate & hazard projections (NOAA, NASA, IPCC data): expected hurricane frequency/intensity, sea-level rise, drought risk, etc.
- Investment gaps: based on World Bank & UN guidance on resilient infrastructure, housing, health systems.
- Policy maturity index: how aligned national frameworks are with NDRF principles, Sendai Framework, ODPEM's Comprehensive Disaster Management cycle, etc.
- The AI shows:
  - If Jamaica continues current investments (e.g., risk financing, coastal resilience) how the LTDRR Scorecard scores evolve for the next decade.
  - How different policy choices (e.g., expanding social protection coverage, investing in nature-based mitigation) change future risk and recovery scores.

Mentor mode

- When a country / state scores Resilient (≥80%) overall or in a specific domain:
- Tag it as a "Mentor Candidate" for that domain.
- Automatically:
  - Document key practices, policies, and funding models.
  - Match them with Restoring / Need Support places that share similar hazards or socio-economic context (e.g., Jamaica mentoring other Caribbean SIDS on catastrophe bonds and risk financing).
- Generate "Mentor Packages":
  - Webinars, peer exchanges, training decks.
  - Templates (PDRPs, communication plans, housing strategies).
  - Potential twinning arrangements between local governments.
  - The dashboard could have a "Mentor Hub" where decision-makers filter mentors by hazard type, income level, or governance model.

APPENDIX A

First-Cut Concept of AI Disaster Recovery Scorecard Dashboard [Pilot Built on Jamaica / Hurricane Melissa]

Jamaica Pilot [Roll-Out Plan]

Configure LTDRR Scorecard for Jamaican context

- Map scorecard criteria to ODPEM's CDM cycle and national legislation.
- Disaster Preparedness Office
- Add Jamaica-specific cultural and tourism indicators.

Ingest Hurricane Melissa Data

- ***Hazard***: storm track, intensity, rainfall.
- ***Impacts***: housing damage, deaths, shelters, outages.
- ***Economic & Financing***: damage estimates, catastrophe bond payout, tourism impacts.
- ***Health***: leptospirosis outbreak & hospital strain.

Run First AI Scoring Pass

- Initial scores for each LTDRR Scorecard domain and impact dimension.
- Cross-check with Jamaican stakeholders (ODPEM, ministries, local gov, civil society) to refine logic.

Turn On "Live Updates"

- As new data arrives (tourism recovery, outbreak resolution, reconstruction progress), the AI:
  - Updates domain scores.
  - Re-calculates Long-Term Recovery Health.
  - Adjusts recommended priorities.

Jamaica Dashboard Example

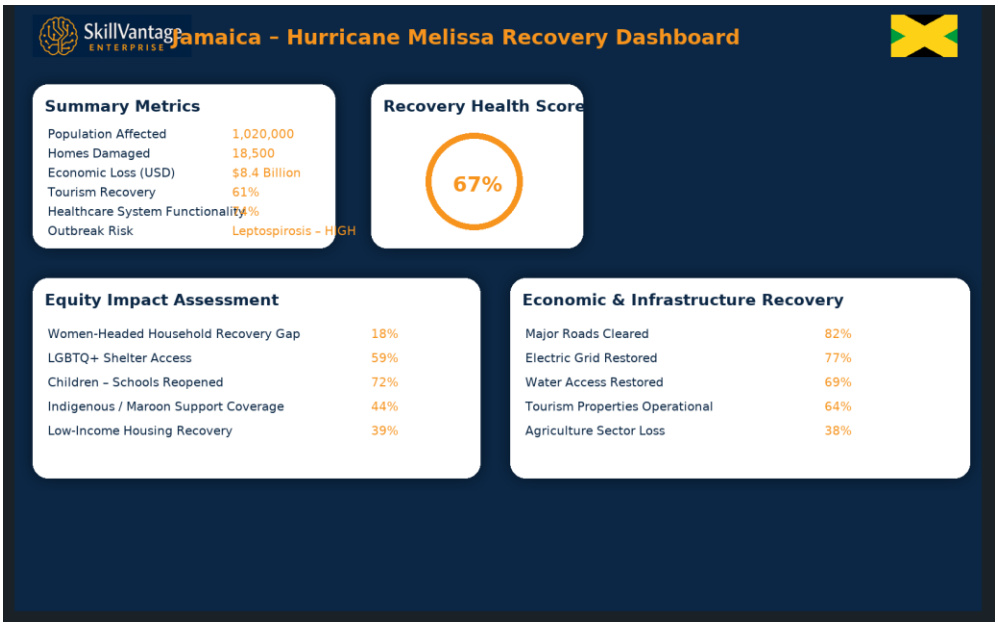

APPENDIX B: DASHBOARD WIREFRAME

AI Disaster Recovery Scorecard Dashboard Visual Wireframe (Designer-Ready)

Global Homepage (Top-Level Dashboard)

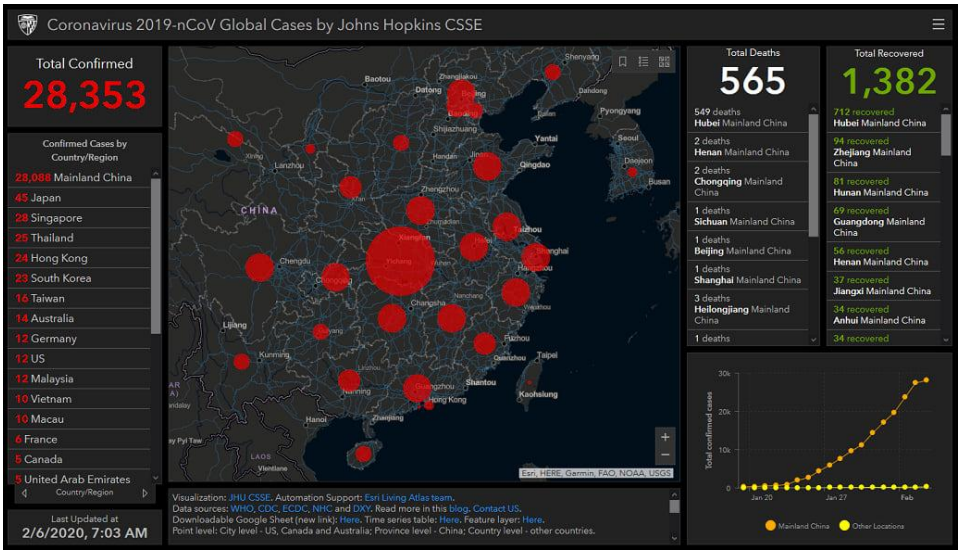

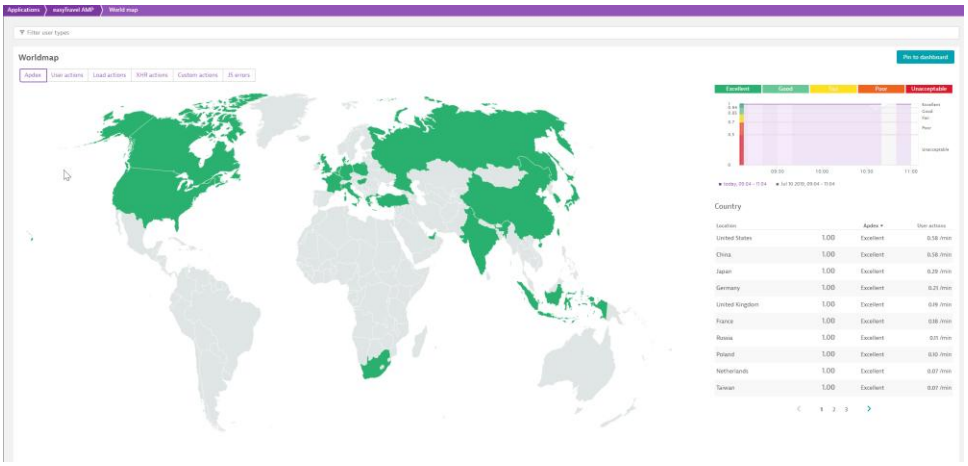

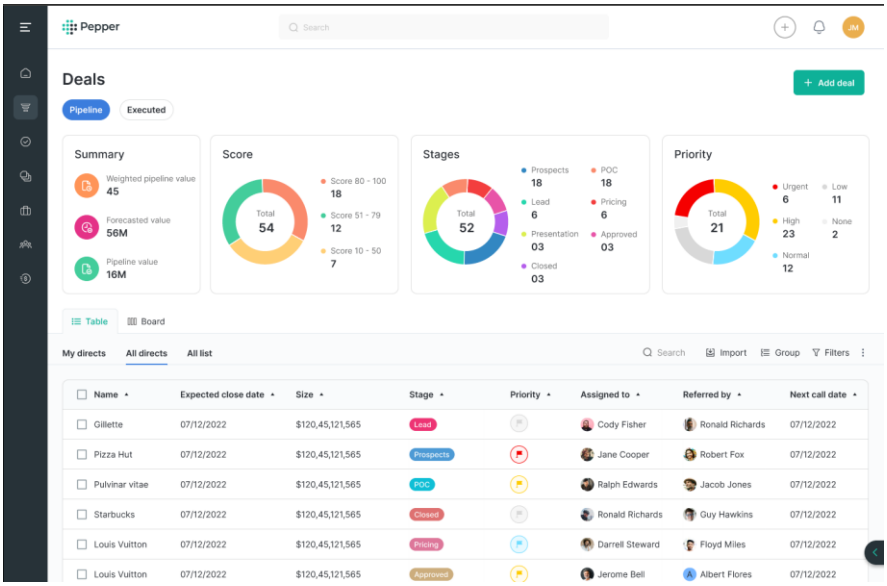

Header Bar

- **Logo:** SkillVantage | AI LTDRR Scorecard
- **Navigation:** Global Overview | Countries | Domains | Equity Lens | Scenarios | Resources
- **Search Bar:** "Search Country / State / Disaster"

Global Recovery Map

Widget type: Interactive Choropleth Map. **Label:** *"Global Long-Term Recovery Health (Latest Disaster per Country)"*

- Countries shaded **Green / Yellow / Red**
- Hover Data:
  - Country Name
  - Recovery Health %
  - Disaster Type & Date
  - Primary Vulnerable Populations
  - Resilience Rank

Global Score Summary

Widget: KPI Card Row. **Cards (6):**

- **Global Average Recovery Score** – %
- **Countries in Resilient Zone (80–100%)**
- **Countries in Restoring Zone (60–79%)**
- **Countries Needing Support (<60%)**
- **Top-Ranked Resilient Country (Latest Quarter)**
- **Most Impacted Vulnerable Group (Global Trend)**

High-Risk Geographies

Widget: Heatmap. Labels:

1. *"Risk Hotspots: Hurricanes / Floods / Earthquakes / Conflict / Wildfire"*

Mentor Network Carousel

Widget: Horizontal scroll of mentor countries. Labels:

- "Countries Ready to Mentor Peers"
- "Based on High Resilience Scores in: Governance | Housing | Health | Infrastructure"

Country Profile Page (Jamaica – Hurricane Melissa Pilot)

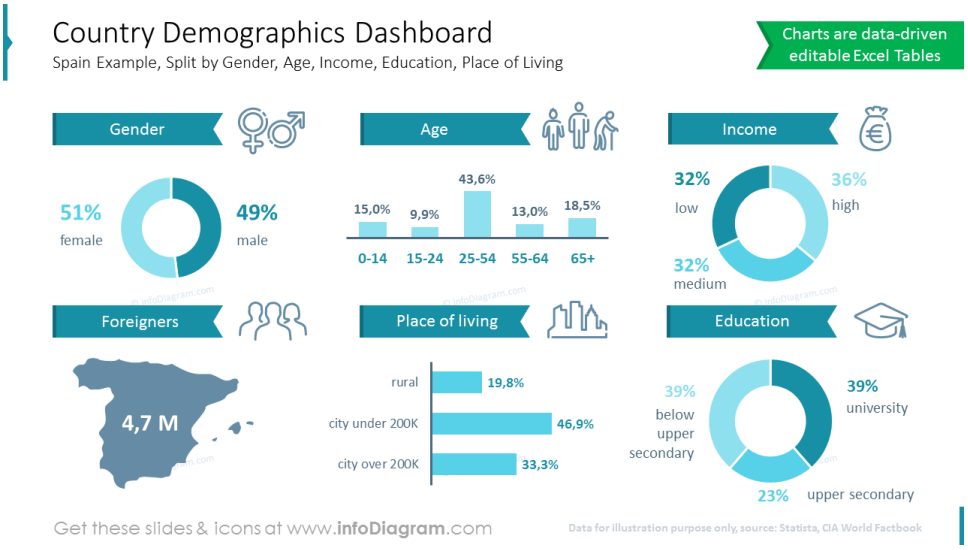

"Five S" DRP DASHBOARD

PROJECT TITLE

SYSTEMS	SERVICES	STAFF	SUPPLIERS	SITES
COUNT	COUNT	COUNT	COUNT	COUNT
3	5	4	3	2
IMPACT	IMPACT	IMPACT	IMPACT	IMPACT
2 Extreme	2 Extreme	0 Extreme	2 Extreme	1 Extreme
1 High	3 High	1 High	1 High	0 High
0 Moderate	0 Moderate	1 Moderate	0 Moderate	1 Moderate
0 Low	0 Low	0 Low	0 Low	0 Low
STATUS	STATUS	STATUS	STATUS	STATUS
2 IN PLANNING	1 IN PLANNING	2 IN PLANNING	1 IN PLANNING	1 IN PLANNING
1 IN TESTING	2 IN TESTING	1 IN TESTING	1 IN TESTING	0 IN TESTING
0 SIGNED OFF	2 SIGNED OFF	1 SIGNED OFF	1 SIGNED OFF	1 SIGNED OFF
0% SIGNED OFF	40% SIGNED OFF	25% SIGNED OFF	33% SIGNED OFF	50% SIGNED OFF

Date	Version	Overall Status	Circulation	Next Review
26 June 2016	1.00	STRONG	Restricted to Mgmt	03-Aug-17

Country Header

- **Flag, Name, Disaster Profile:**
  Jamaica – Hurricane Melissa (Category 4)
- **Last Update Badge:** "AI Refreshed: 2 hrs ago"

Recovery Health Score

Widget: Circular Gauge. Labels:

- **Overall Long-Term Recovery Health: 67% (Restoring)**
- Color-coded band:
  - 80–100 Resilient
  - 60–79 Restoring
  - <60 Needs Support

Domain Radar Chart

Widget: Radar / Spider Chart.
Label: "Domain-Level Resilience Performance"
Domains (from scorecard):

- Governance & Leadership
- Community Capacity
- Housing
- Infrastructure
- Health & Social Services
- Economic Recovery
- Natural & Cultural Resources
- Finance & Resource Management
- Community Engagement

Impact Metrics Bar

Widget: Horizontal Multi-KPI Bar

- **Economic Loss (% GDP):** 8–8.8B USD
- **Displaced:** XXXX
- **Homes Damaged:** XXXX
- **Tourism Recovery:** XX% restored
- **Health System Functionality:** XX%
- **Outbreak Alerts:** e.g., "Leptospirosis Risk: Elevated"

Equity Impact Dashboard

Widget: Tabbed Cards. **Tabs**:

1. Women
2. Children
3. LGBTQ+
4. Low-Income
5. Indigenous / Tribal
6. Rural / Coastal / SIDS Communities

   Each tab shows:
   - Vulnerability Score
   - Service Access Gap
   - Recovery Timeline Gap
   - Shelter Access
   - Safety & Protection Indicators
   - Targeted Recommendations

AI Insights Panel

Widget: Text + Icon
Labels:

1. "Top 5 Immediate Actions (0–12 Months)"
2. "Top 5 Strategic Actions (1–10 Years)"
3. "Key Barriers Identified"
4. "Potential International Partners"

Simulation & Scenarios

Widget: Interactive Scenario Builder
Labels:

- "What happens if another Cat-4 hurricane hits within 3 years?"
- "How does resilience change if housing investment increases by 20%?"
- "What is the impact of doubling coastal protections?"

Outputs: score shifts, estimated impact reduction, cost-benefit analysis.

Domain Detail Page (Each Domain Has A Template)

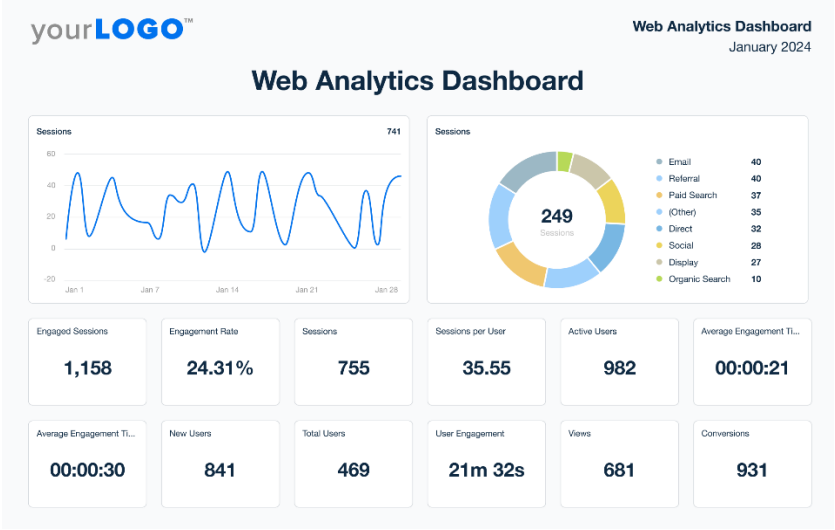

Domain Header

Example: **Housing Recovery**

- **Domain Score:** 62%
- **Equity Adjusted Score:** 48%
- **Status:** Restoring

Sub-Criteria Grid

Widget: Traffic Light Grid (0 = Red, 1 = Yellow, 2 = Green)
Example rows:

- Housing Damage Assessment Completed
- Temporary Housing Available
- Reconstruction Financing Distributed
- Vulnerable Groups Prioritized
- Building Codes Updated
- Resilient Materials Adopted

Progress Trend Line

Shows improvement or decline over time.

Vulnerability Overlay

Widget: Mini Heatmap
Groups:

- Women-headed households
- LGBTQ+ households
- Children
- Elderly
- Persons with disabilities
- Indigenous/Maroons
- Low-income families
- Rural vs Urban

Resource Recommendations

Widget: Resource Cards
Labels:

1. FEMA RSF guidance
2. UN/OCHA manuals
3. World Bank climate-resilient housing frameworks
4. Best practice case studies

Mentor Suggestions

If score ≥ 80% → Tag domain as "Mentor Level"

Full Indicator List (By Domain + Equity Lenses)

This section is long and detailed—exactly what you want for designers and engineers building the system.

Domain 1: Governance & Leadership:

Core Indicators

- National Recovery Coordinator appointed
- Recovery Task Force operational
- Pre-disaster recovery plan updated
- Legal authority established
- Inter-agency coordination functioning

Equity Indicators

- Gender representation in leadership positions
- Inclusion of LGBTQ+ advocates in task forces
- Youth/children's representation mechanisms
- Indigenous/Maroons included in recovery governance
- Accessibility of decision-making to low-income communities

Caribbean/SIDS Indicators

- Diaspora involvement in governance
- SIDS-specific financial alignment (IDB, CCRIF, etc.)

Domain 2: Community Planning & Capacity Building:

Core Indicators

- Local recovery plans developed
- Trained recovery managers
- Community drills and simulations

Equity Indicators

1. Disaster education in schools (children/youth)
2. Community plans include LGBTQ+ safe shelter access
3. Women's leadership programs in preparedness
4. Plans translated to indigenous languages where relevant
5. Low-income zones included in capacity building

Caribbean/SIDS Indicators

- Community-based coastal monitoring systems

Domain 3: Housing Recovery:

Core Indicators

- Damage assessment completed
- Temporary shelter systems activated
- Permanent reconstruction progress
- Housing finance released

Equity Indicators

- Women-headed household housing recovery rate
- LGBTQ+ access to shelters without discrimination
- Safe homes for children, foster care continuity
- Indigenous housing & cultural architectural considerations
- Slum / informal settlements prioritized

Caribbean/SIDS Indicators

- Coastal housing setback compliance
- Hurricane-resistant construction adoption

Domain 4: Infrastructure Systems:

Core Indicators

- Roads, bridges, water, electricity, schools, hospitals.

Equity Indicators

- School reopening rate (children & youth)
- Hospital access gaps by population
- Transport restoration for rural poor communities
- Accessibility compliance for disabled groups

Caribbean/SIDS Indicators

- Port & airport reopening timelines
- Tourism-critical infrastructure recovery

Domain 5: Health & Social Services:

Core Indicators

1. Hospitals operational
2. Outbreak surveillance
3. Mental health access
4. Social protection functions

Equity Indicators

- Maternal health continuity
- LGBTQ+ inclusive health services
- Child protection & GBV case management
- Indigenous health access & cultural healing practices
- Low-income access to medication & clinics

Caribbean/SIDS Indicators

- Dengue/leptospirosis post-flood surveillance
- Regional PAHO/Caribbean health network integration

Domain 6: Economic Recovery:

Core Indicators

- Business reopening rate
- Tourism sector recovery
- Agriculture sector restoration
- Employment rebound

Equity Indicators

- Women entrepreneurs receiving recovery loans
- LGBTQ+ business inclusion
- Youth unemployment recovery
- Low-income job restoration indexes

Caribbean/SIDS Indicators

1. Tourism dependency stress test
2. Sargassum impacts (coastal economy)

Domain 7: Natural & Cultural Resources:

Core Indicators

1. Ecosystem restoration
2. Cultural site restoration
3. Environmental risk management

Equity Indicators

1. Access to cultural lands for indigenous groups
2. Inclusion of women/youth in environmental projects

Caribbean/SIDS Indicators

- Coral reef, mangrove, and coastal ecosystem damage
- Cultural festival restoration

Domain 8: Finance & Resource Management:

Core Indicators

- Budget allocations
- Financial transparency
- Aid coordination
- Disaster risk financing

Equity Indicators

1. Funding specifically allocated for marginalized groups
2. Women-owned businesses receiving grants
3. Community-based organizations funded
4. Indigenous communities' access to financial support

Caribbean/SIDS Indicators

- CCRIF/IDB payout deployments
- Catastrophe bond activation timelines

Domain 9: Public Information & Community Engagement:

Core Indicators

- Public communication system functioning
- Two-way communication channels
- Accuracy and trust score

Equity Indicators

- Early warning messages inclusive of:
  - Children
  - Non-English / indigenous languages
  - LGBTQ+ safe shelter information
  - Rural & low-income communities
- Risk communication accessibility

Caribbean/SIDS Indicators

- Local radio/WhatsApp community networks
- Diaspora communication loops